SAFEZONE INTELLIGENCE — PROPERTY SECURITY REPORT

REF: SZ-WC-2024-08813
28 March 2026
CONFIDENTIAL

41 Fifth Avenue, Belgravia

Cape Town, Western Cape 7764 · Residential · Athlone SAPS Precinct

● HIGH RISK — 74TH PERCENTILE, WESTERN CAPE

OVERALL RISK ASSESSMENT

74 / 100

HIGH RISK — Above provincial average

This property falls within the Athlone SAPS precinct, which ranks in the **74th percentile** across 145 Western Cape precincts. Total reported crime rose 7.3% year-on-year, against a provincial average of 2.1%, driven primarily by residential burglary and violent assault.

LOW — HIGH 74 / 100

PROPERTY DETAILS

MUNICIPALITY City of Cape Town	SAPS PRECINCT Athlone	LAND USE Urban residential
COORDINATES 33.9572° S, 18.5046° E	DATA PERIOD Apr 2023 – Mar 2024	SUBURB Belgravia

KEY METRICS — ATHLONE PRECINCT

2,244	1.8km	389	7
TOTAL INCIDENTS	NEAREST STATION	BURGLARIES P.A.	RISING CATEGORIES
↑ +7.3% YoY	~4 min response	↑ +9.3% YoY	2 declining

RISK PROFILE & CRIME COMPOSITION

PRECINCT RISK PROFILE VS WC AVERAGE

Athlone precinct WC average

CRIME COMPOSITION BY TYPE

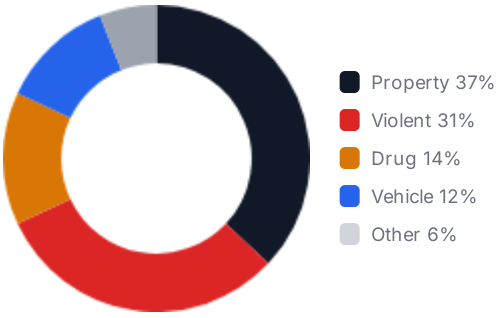

5-YEAR INCIDENT TREND

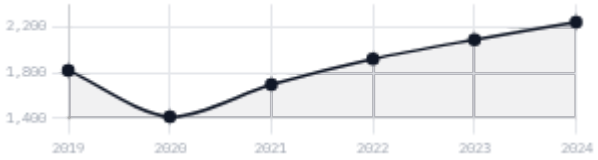

ANNUAL INCIDENTS BY CATEGORY — APR 2023 TO MAR 2024

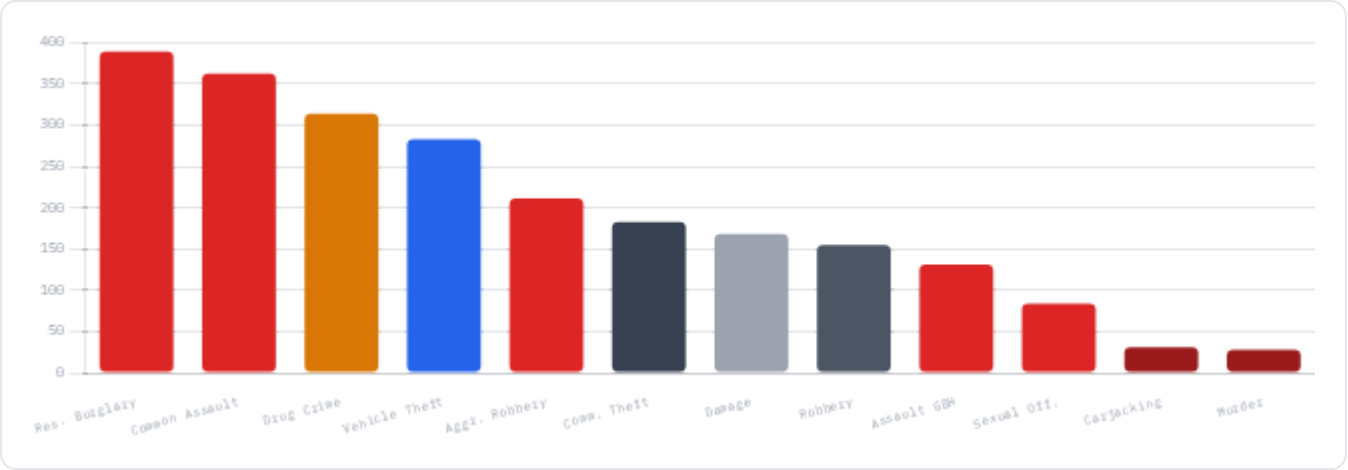

INCIDENT RISK — DAY & TIME OF DAY



YEAR-ON-YEAR TREND (2019–2024)

MONTHLY DISTRIBUTION — 2023/24

DETAILED INCIDENT BREAKDOWN — ATHLONE PRECINCT 2023/24

CATEGORY	SEVERITY	INCIDENTS	PRIOR YEAR	YOY CHANGE	TREND	SHARE
Residential burglary	Critical	389	356	+9.3%	↑ Rising	17.3%
Common assault	High	362	351	+3.1%	↑ Rising	16.1%
Drug-related crime	High	314	327	−4.0%	↓ Declining	14.0%
Theft from motor vehicle	Medium	283	254	+11.4%	↑ Rising	12.6%
Aggravated robbery	Critical	211	199	+6.0%	↑ Rising	9.4%
Commercial theft	Low	183	197	−7.1%	↓ Declining	8.2%
Malicious damage to property	Medium	168	171	−1.8%	→ Stable	7.5%
Common robbery	Medium	155	152	+2.0%	→ Stable	6.9%
Assault GBH	High	131	123	+6.5%	↑ Rising	5.8%
Sexual offences	Critical	84	86	−2.3%	→ Stable	3.7%
Carjacking	Critical	31	27	+14.8%	↑ Rising	1.4%

CATEGORY	SEVERITY	INCIDENTS	PRIOR YEAR	YOY CHANGE	TREND	SHARE
Murder	Critical	28	27	+3.7%	↑ Rising	1.2%

NEAREST SAPS POLICE STATIONS

Athlone Police Station

Primary

Klipfontein Road, Athlone · Tel: 021 684 4600 · Emergency: 10111

1.8 km · ~4 min drive · Primary jurisdiction

Woodstock Police Station

Secondary

Victoria Road, Woodstock · Tel: 021 462 2800 · Emergency: 10111

4.3 km · ~9 min drive · Secondary coverage

Rondebosch Police Station

Tertiary

Main Road, Rondebosch · Tel: 021 686 8800 · Emergency: 10111

5.1 km · ~11 min drive · Tertiary coverage

KEY INTELLIGENCE FINDINGS

- **Residential burglary is the dominant threat** at 389 incidents p.a., rising 9.3% YoY. Peak exposure is weekday mornings (06:00–12:00) when properties are unoccupied.
- **Carjacking up 14.8% YoY** — fastest-growing crime in the precinct. Highest risk on Friday–Saturday evenings on arterial roads near this property.
- **Vehicle theft up 11.4%.** Secured, enclosed garaging is strongly recommended. Street parking after 18:00 carries elevated overnight risk.
- **Assault GBH rising 6.5%** — a marker of sustained social instability. Incidents cluster around liquor outlets 300–600m north-west of this property.
- **Friday and Saturday 18:00–24:00 is the highest-risk window** across all categories, coinciding with reduced patrol visibility on Klipfontein Road.
- **Drug crime down 4.0% and commercial theft down 7.1%** — both declining, attributed to targeted SAPS enforcement operations in Q3 2023.

COMPARATIVE RISK BENCHMARKING

RISK INDEX VS COMPARABLE PRECINCTS (/ 100)

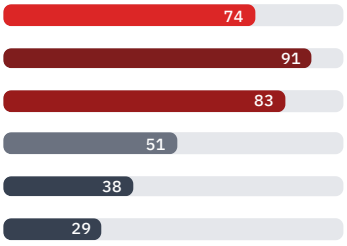

SECURITY RECOMMENDATIONS

Perimeter

- Electric fencing or spike top on all boundary walls
- Motion-sensor lighting front and rear
- CCTV covering driveway and street entry

Access control

- Double-lock all exterior doors and windows
- Burglar bars on all ground-floor windows
- Gate motor with backup battery power

Vehicles

- Enclose vehicles in locked garage overnight
- GPS tracker on all registered vehicles
- Avoid street parking after 18:00 Fri–Sat

Monitoring

- Register with a local armed response company
- Join the Belgravia neighbourhood watch
- Enable SAPS MySAPS crime alert notifications

Disclaimer: This report is compiled from publicly available SAPS crime statistics (2023/24 financial year) and does not constitute legal, insurance, or personal safety advice. Crime statistics reflect reported incidents at precinct level and may not precisely reflect conditions at this specific address. Response times are estimates only. SafeZone Intelligence accepts no liability for decisions made on the basis of this report.